INCIDENT ACTION PLAN

River Valley Wildfire • 2026-04-06 • Generated by FireSim V3

Contains: ICS-201 • ICS-202 • ICS-203 • ICS-204 • ICS-205 • ICS-206

ICS 201 – INCIDENT BRIEFING

A INCIDENT INFORMATION

Incident Name	River Valley Wildfire
Date Prepared	2026-04-06
Time Prepared	04:40 UTC
Jurisdiction	Edmonton, Alberta, Canada
Ignition Coordinates	53.54551°N, 113.52227°W
Primary Fuel Type	C2 — Boreal Spruce

B CURRENT SITUATION SUMMARY

- Fire type: surface
- Burned area: 0.0 ha (0.00 km²)
- Perimeter length: 0.2 km
- Peak head ROS: 0.1 m/min
- Peak HFI: 18 kW/m — Intensity Class I

C WEATHER OUTLOOK

Wind Speed	8 km/h SE
Temperature	0°C
Relative Humidity	69%
FFMC / DMC / DC	82.14442128565882 / 6 / 15.684
FWI / Danger Rating	1.1 — Low

D INCIDENT OBJECTIVES

- Contain fire within 0 ha by end of operational period
- Maintain RPAS safe standoff of 500 m from active perimeter per IC/ATGS authorization
- Execute Direct Attack tactics per suppression advisory (Intensity Class I)

E OPERATIONAL MAP

Incident Map Overview

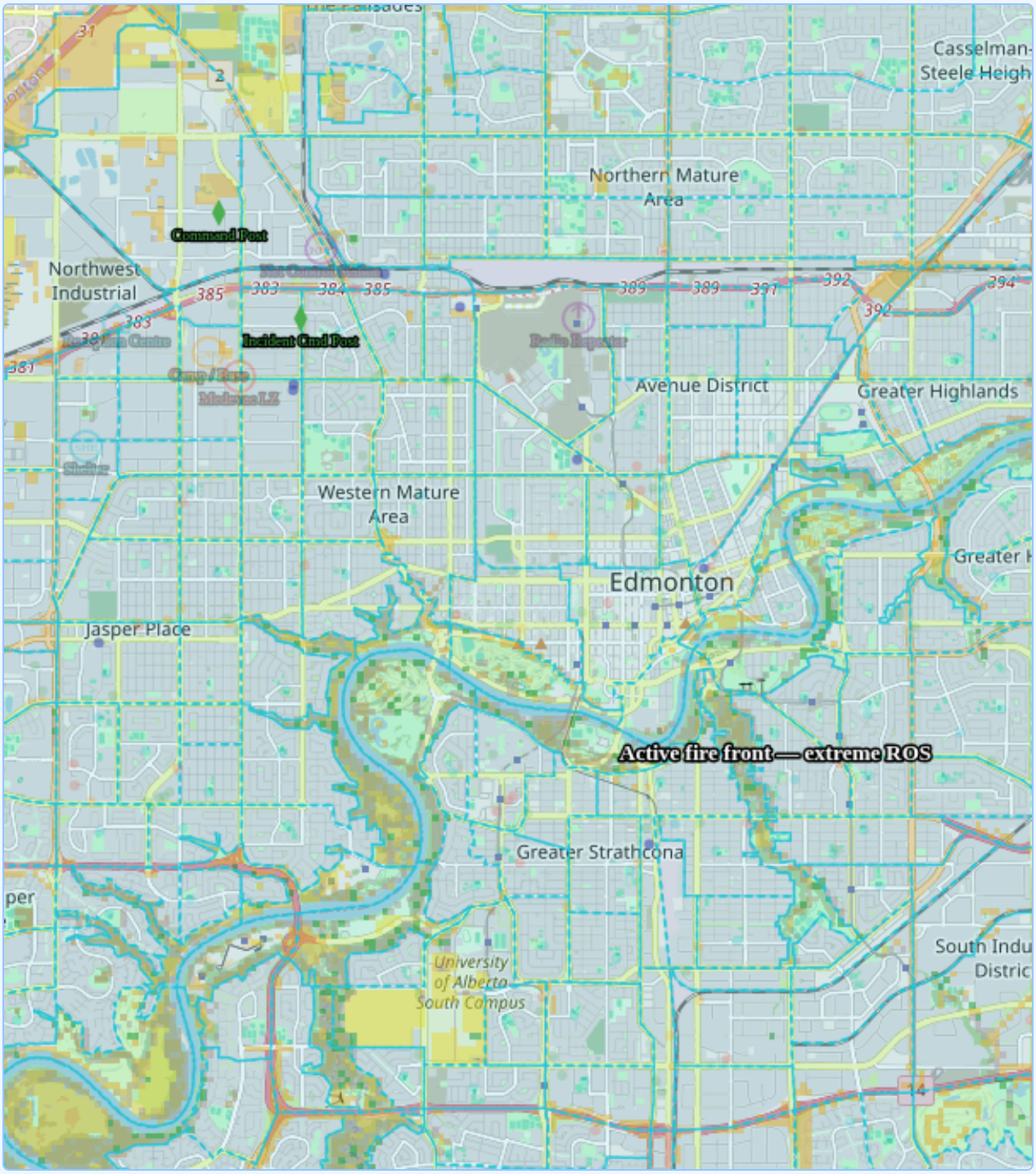

Evacuation Order (0–2 h) Evacuation Alert (2–6 h) Evacuation Watch (6–12 h) Fire Perimeter

F RESOURCE SUMMARY

Resource	2–4 Initial attack crews (Type 4–5)
Resource	1–2 Water tenders
Resource	Light air tanker support (optional)

G COMMUNICATIONS OVERVIEW

Primary Channel	Command net — confirm with Communications Unit Leader
Tactical Channel	Operations net — assign by division
Air-to-Ground	ATGS frequency — confirm with Air Tactical Group Supervisor
Public Information	Municipal Emergency Alert System + media liaison

Auto-generated by FireSim V3 from Canadian FBP simulation results. Verify all operational fields before use.

ICS 202 – INCIDENT OBJECTIVES

1 INCIDENT INFORMATION

Incident Name	River Valley Wildfire
Date Prepared	2026-04-06
Time Prepared	04:40 UTC
Jurisdiction	Edmonton, Alberta, Canada
Ignition Coordinates	53.54551°N, 113.52227°W
Primary Fuel Type	C2 — Boreal Spruce

2 OPERATIONAL PERIOD OBJECTIVES

- Contain fire within 0 ha by end of operational period
- Maintain RPAS safe standoff of 500 m from active perimeter per IC/ATGS authorization
- Execute Direct Attack tactics per suppression advisory (Intensity Class I)

3 COMMAND EMPHASIS

- Strategy: Direct Attack
- Ground crews can establish direct perimeter control. Water application and hand line viable.
- Aggressive initial attack authorized where tactically safe.

4 GENERAL SITUATIONAL AWARENESS

- No additional situational awareness items. Maintain LACES protocol.

5 SAFETY MESSAGE / ANALYSIS

- Maintain LACES: Lookouts, Anchor points, Communications, Escape routes, Safety zones
- Monitor changing wind conditions — re-evaluate escape routes if wind shifts > 20°

6 WEATHER OUTLOOK

Wind	8 km/h SE
Temp / RH	0°C / 69%
FWI	1.1 — Low

7 CONTROL MEASURES & EVACUATION TRIGGERS

- Evacuation triggers: based on AEMA time-horizon model (Order 0–2h, Alert 2–6h, Watch 6–12h)

8 ATTACHMENTS / REFERENCES

- ICS-209 Incident Status Summary (attached)
- FireSim V3 GeoJSON perimeter export
- Burn probability GeoJSON (if Monte Carlo run completed)
- Alberta Emergency Management Act — evacuation zone authority

9 OPERATIONAL MAP

Operational Perimeter Map

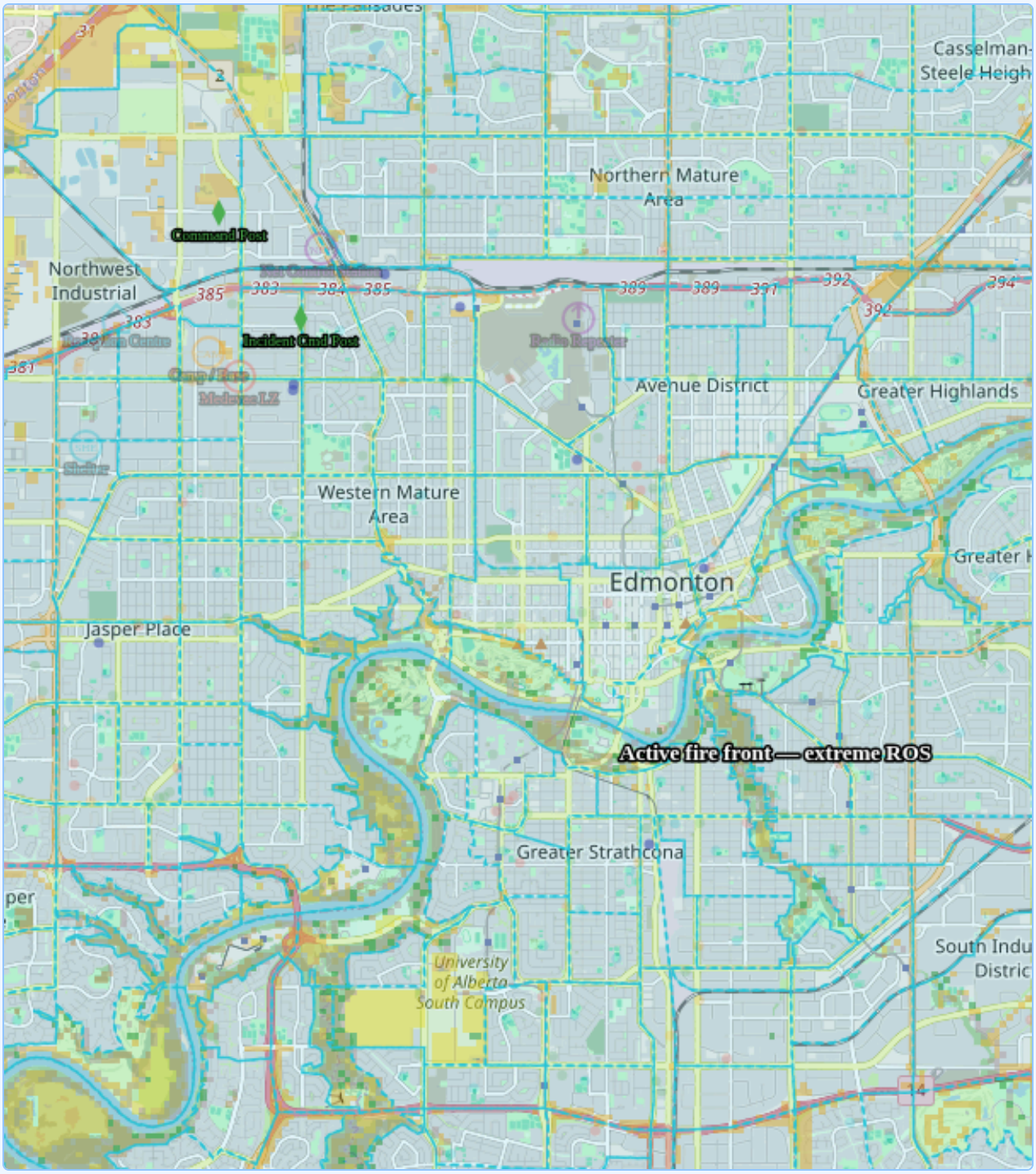

Evacuation Order (0–2 h) Evacuation Alert (2–6 h) Evacuation Watch (6–12 h) Fire Perimeter

Auto-generated by FireSim V3 from Canadian FBP simulation results. Verify all operational fields before use.

ICS 203 – ORGANIZATION ASSIGNMENT LIST

1 INCIDENT INFORMATION

Incident Name	River Valley Wildfire
Date Prepared	2026-04-06
Time Prepared	04:40 UTC
Jurisdiction	Edmonton, Alberta, Canada
Ignition Coordinates	53.54551°N, 113.52227°W
Primary Fuel Type	C2 — Boreal Spruce

2 COMMAND STAFF

Position	Name	Agency	Contact
Incident Commander (IC)			
Safety Officer			
Liaison Officer			
Public Information Officer (PIO)			
Information Technology Officer			

3 GENERAL STAFF & BRANCH ASSIGNMENTS

Section / Branch	Chief / Position	Name	Agency	Contact
Operations Section Chief				
Planning (SITL)				
Operations — Div A (Structure Protection)	Division Supervisor			
Operations — Div B (Evac Support)	Division Supervisor			

Org structure scaled to Intensity Class I (Direct Attack). Section Chiefs and names require manual entry.

4 AGENCY REPRESENTATIVES

Agency	Representative	Contact	Location
City of Edmonton (COE)			
Alberta Wildfire			
Edmonton Fire Rescue Services			
Edmonton Police Service			
Alberta Health Services (EMS)			

5 TECHNICAL SPECIALISTS

Specialty	Name	Agency	Contact
Fire Behaviour Analyst (FBAN)			
RPAS / Drone Coordinator			
Situation Unit Leader (SITL)			

ICS 204 – ASSIGNMENT LIST

1 INCIDENT INFORMATION

Incident Name	River Valley Wildfire
Date Prepared	2026-04-06
Time Prepared	04:40 UTC
Jurisdiction	Edmonton, Alberta, Canada
Ignition Coordinates	53.54551°N, 113.52227°W
Primary Fuel Type	C2 — Boreal Spruce

2 OPERATIONS OVERVIEW

Operations Section Chief	TBD — manual entry
Suppression Strategy	Direct Attack
Active Divisions	Division A — General Operations

3.1 DIVISION A — GENERAL OPERATIONS

Work Location	Confirm with SITL
Report Time	Operational briefing time
Supervisor	TBD — manual entry required

TACTICAL OBJECTIVES

- Run simulation to generate specific division assignments based on evac zones and fire behaviour.

RESOURCES

- 2–4 Initial attack crews (Type 4–5)
- 1–2 Water tenders
- Light air tanker support (optional)

SAFETY NOTES

- LACES protocol mandatory. Verify escape routes and safety zones before deployment.

COMMUNICATIONS

Tactical Net	Assign frequency — ICS-205
Command Net	Confirm with Comms Unit Leader

SOURCES FIRE STATIONS / MUTUAL AID

Fire Station / Mutual Aid	Contact	Address
Spruce Grove Fire Services and EMS Administration		410 King Street
Fire Station Number 2		10217 107 Street NW Edmonton
Military Fire Station		
Leduc Fire House #1		4119 50 Street Leduc
Leduc County Fire Services Calmar Fire District		4517 50 Street Calmar
Strathcona County Emergency Services - Station #1		1933 Sherwood Drive Sherwood Park
Strathcona County Emergency Services - Station #5		2099 Clover Bar Road Sherwood Park
St. Albert Fire Station No. 1		
Strathcona County Fire Department Station 3		
Edmonton Fire Station #9 (Roper Station)		5604 50 Street NW Edmonton
Legal Fire Station		
Walter Thomas Station		10099 93 Avenue Fort Saskatchewan
Edmonton Fire Station 28	+1-780-425-1231	12110 26 Avenue SW Edmonton
Beaumont Fire Department		
Edmonton Fire Station 18		13808 Victoria Trail NW
St Albert Fire Station #2		
Edmonton Fire Station 27		
Edmonton Fire Station 20		2303 105 Street NW Edmonton
Edmonton Fire Station 24		
Edmonton Fire Station 13		
Edmonton Fire Station #16 (Mill Woods)		2904 66 Street NW Edmonton

Fire Station No. 17 Castle Downs		
Edmonton Fire Station #26 (Meadows)	+1-780-442-5445	2803 34 Street NW Edmonton
Edmonton Fire Station #19		
Edmonton Fire Station #15 (Coronet)		5120 97 Street NW Edmonton
Meadolark Number 12 Fire Station		
Edmonton Fire Station 6		
Edmonton Fire Station #21		
Edmonton Fire Station 23		
Jasper Place Number 4 Fire Station		10949 156 Street NW Edmonton
Edmonton Fire Station #22		
Edmonton Fire Station #1 (Headquarters)		10351 96 Street NW Edmonton
Fire Station No. 5		
Fire Station Number 11		6110 98 Avenue NW Edmonton
Fire Rescue Service Laudeardale Number 10		
Highlands Number 7 Fire Station		
Edmonton Fire Station 14		
No. 3 Fire Station		
Devon Fire Hall No. 1		
EIA Fire		
Edmonton Fire Station 25		
Bruderheim Fire Department		
Stony Plain Fire Hall		4000 49 Avenue Stony Plain
Fire Rescue Station Pilot Sound Fire Station No. 30		
Lewis Farms Fire Station #29		
Leduc Fire House #2		4901 69 Street Leduc

Strathcona County Fire Station 2		22142 South Cooking Lake Road
Fire Station #6		
Gibbons Fire Station		
Hay Lakes Fire Hall		
Nisku Fire District Station (Station 1)		606 21 Avenue Nisku
Millet Fire Department		5138 45 Avenue Millet
Parkland County Fire Hall		
St. Albert Fire Station No. 1		
Acheson Fire Station		11350 274 Street Acheson
Nisku District South Fire Station #9		4522 27 Street East Edmonton International Airport
Windermere Fire Station 31		3865 Allan Drive SW Edmonton
Lamont Fire Department		
Edmonton Fire Station 8		
University Number 3 Fire Station		11226 76 Avenue NW Edmonton

MAP LEGEND ANNOTATED RESOURCES

Type	Label / Note	Location
Camp/Base	Camp / Base	53.5736°N, 113.5846°W

ICS 205 – COMMUNICATIONS PLAN

1 INCIDENT INFORMATION

Incident Name	River Valley Wildfire
Date Prepared	2026-04-06
Time Prepared	04:40 UTC
Jurisdiction	Edmonton, Alberta, Canada
Ignition Coordinates	53.54551°N, 113.52227°W
Primary Fuel Type	C2 — Boreal Spruce

2 RADIO NETS

Net #	Function	Channel / Talkgroup	Frequency	Assignment
1	Command			IC, Section Chiefs
2	Tactical — Div A (Structure)			Ops / Div A crews
3	Tactical — Div B (Evac Support)			EPS / Transit / AHS
4	Tactical — Div C (Monitoring)			Patrol / RPAS
5	Air-to-Ground			ATGS / Aircraft
6	Logistics			Supply, Ground Support
7	Public Information / Media			PIO

Assign frequencies/talkgroups from Edmonton Fire Rescue Services / AEMA communications plan. Confirm with Comms Unit Leader before distribution.

3 CONTACT DIRECTORY

Name	Position	Radio Call Sign	Phone	Agency
	Incident Commander			
	Operations Section Chief			
	Planning / SITL			
	Logistics Section Chief			
	Safety Officer			
	Public Information Officer			
	Air Tactical Group Supervisor (ATGS)			
	RPAS Coordinator			
	Alberta Emergency Alert Coordinator			Alberta AEMA

4 PREPARED / APPROVED

Prepared By	SITL — manual entry required
Approved By / IC	IC — manual entry required

ICS 206 – MEDICAL PLAN

1 INCIDENT INFORMATION

Incident Name	River Valley Wildfire
Date Prepared	2026-04-06
Time Prepared	04:40 UTC
Jurisdiction	Edmonton, Alberta, Canada
Ignition Coordinates	53.54551°N, 113.52227°W
Primary Fuel Type	C2 — Boreal Spruce

2 MEDICAL AID STATIONS

Aid Station	Location	Contact	Paramedics	Capacity
Station 1 — ICP (Primary)				
Station 2 — Forward (Div A)				

Medevac LZs: Edmonton (Eastport) Heliport (53.5049°N, 113.3322°W); Redwater (Heliworks) (53.9193°N, 113.1042°W); Edmonton / Leduc (53.2532°N, 113.5426°W); Westlock (Healthcare Centre) Heliport (54.1467°N, 113.8551°W); Edmonton/Bailey (53.5080°N, 113.2361°W); Medevac LZ (53.5707°N, 113.5784°W)

3 TRANSPORTATION RESOURCES

Resource	Contact	Location / Staging	Capability
Beacon Heights Station		4304 118 Avenue NW	
EMS Belvedere Station			
EMS Pylypow Station		5535 50 Street NW	
AHS EMS Kildare Station #33		8120 137 Avenue NW	
Lendrum Station			
EMS Bonnie Doon Station #28		8939 83 Street NW	
Glenora Station #34		10527 142 Street NW	
EMS Spruce Station		11169 101 Street NW Edmonton	
AHS EMS Meadows Station #26		2803 34 Street NW Edmonton	
Stony Plain EMS Station		3000 48 Street Stony Plain	
Medavie Health Services West			

4 HOSPITALS

Hospital	Phone	Distance	Air Travel	Capabilities
Stollery Children's Hospital		3 km		
Jensen Lakes Dental		15 km		840 St. Albert Trail St. Albert
Westview Health Centre		30 km		44 Avenue
Leduc Community Hospital	+1-780-986-7711	32 km		4210 48 Street Leduc
Strathcona Community Hospital		16 km		9000 Emerald Drive Sherwood Park
Edmonton Community Health Hub North		8 km		psychiatry;general;community
Kaye Edmonton Clinic		3 km		11400 University Ave NW
St. Mary's Hospital		75 km		4607 53 Street Camrose
Fort Saskatchewan Community Hospital		26 km		9401 86 Avenue Fort Saskatchewan
Fort Saskatchewan Community Hospital		26 km		
Rosehaven Long Term Care Centre		75 km		
Sturgeon Community Hospital		14 km		
Wetaskiwin Hospital & Care Centre		63 km		
Grey Nuns Community Hospital		11 km		1100 Youville Drive West NW Edmonton
Alberta Hospital Edmonton	+1-780-342-5555	14 km		17480 Fort Road NW Edmonton
Royal Alexandra Hospital		2 km		10240 Kingsway NW Edmonton
Lamont Health Care Centre		54 km		

Covenant Health St. Joseph’s Auxiliary Hospital		10 km		
Misericordia Community Hospital		6 km		16940 87 Avenue Edmonton
Enoch Health Centre		16 km		
Allen Gray Continuing Care Centre		12 km		
Good Samaritan Southgate Care Centre		7 km		
Jasper Place Continuing Care Centre		6 km		
Glenwood Health Centre		5 km		Stony Plain Road NW Edmonton
Shepherd's Wellness Centre		6 km		
Northeast Community Health Centre		10 km		
Miller Crossing Long Term Care		10 km		
Alexander Health Centre		39 km		
Spruce Grove Health Centre		26 km		205 Diamond Avenue Spruce Grove
University of Alberta Hospital		3 km		
Henwood Treatment Centre		15 km		
Devon General Hospital		26 km		general
Redwater Health Centre		52 km		
Glenrose Rehabilitation Hospital	+1-780-735-7999	2 km		physiatry

Sources include OpenStreetMap data — verify all details at time of incident.

5 PHARMACIES

Pharmacy	Phone	Address
Complete Care Pharmacy		
Shoppers Drug Mart		
Alberta Avenue Pharmacy		9548 118 Avenue NW
Pharmasave		5124 122 Street North-west
Medicine Village		
Rexall		9540 163 Street NW Edmonton
Guardian		
Shoppers Drug Mart		
London Drugs		
Kingston Pharmacy		
London Drugs		
Shoppers Drug Mart		
Safeway		
Shoppers Drug Mart		
Shoppers Drug Mart		
Royal Pharmacy		
London Drugs		
Shoppers Drug Mart		
Family Drugs		
Nolan Drugs		
Shoppers Drug Mart		
Shoppers Drug Mart		
The Medicine Shop		8219 112 Street NW
Halls Pharmacy		
Shoppers Drug Mart		
Belmead Pharmacy		

Community Members Pharmacy		
London Drugs		
Rexall		13610 Victoria Trail NW Edmonton
Nottingham Rxellence Pharmacy		664 Wye Road Sherwood Park
Rexall		11080 51 Avenue NW
Shoppers Drug Mart		
Walmart Pharmacy	+1 780-483-4522	156 Edmonton
Shoppers Drug Mart		10116 150 Street NW Edmonton
Shoppers Drug Mart		177 Street North-west Edmonton
Rexall		10818 Jasper Avenue NW Edmonton
Patient Care Pharmacy		7707 85 Street North-west Edmonton
Rexall		6104 90 Avenue North-west Edmonton
Safeway		
Market Drugs Medical		97 Street NW
Shoppers Drug Mart		
Shoppers Drug Mart		
The Medicine Shoppe	+1-780-760-1131	9122 82 Ave NW Edmonton
Capilano Pharmacy	+1-780-761-3331	5818 Terrace Road NW Edmonton
Walmart Pharmacy	+1 780-457-4366	16940 127 Street NW Edmonton
Safeway		
The Medicine Shoppe Pharmacy		
Millwoods IDA Pharmacy		
Save-On-Foods Pharmacy	+1-780-423-3528	10180 109 Street NW Edmonton
Rexall		2375 111 Street NW Edmonton
Remedy's Rx		
Medicine Shoppe Pharmacy		
Costco Pharmacy		

Pharmasave		
Aspen Pharmacy		3890 Sherwood Drive sherwood Park
Rite Choice Pharmacy LTD	+1-780-466-0134	4273 23 Avenue NW Edmonton
Health Aid Pharmacy		
V-Can Pharmacy	+1-780-756-4000	9660 107a Avenue NW
The Medicine Shoppe	+1-780-486-1882	15819 87 Avenue NW Edmonton
The Medicine Shoppe		
Health Pro Pharmacy		
The Drug Store		
Castledowns ARP Pharmacy		
PharmaChoice		
The Medicine Shoppe		
Capstone Medical Clinic		
The Medicine Shoppe		
Remedy'sRx		
IDA in Griesbach		6881 Ad Astra Boulevard NW Edmonton
New Sprout Pharmacy		13328 114 Avenue NW Edmonton
The Medicine Shoppe		
The Medicine Shoppe		
Eastgate Medical Center Pharmacy		
Safeway		
Coles Pharmacy		
I.D.A.		13202 118 Avenue NW Edmonton
The Medicine Shoppe		6525 118 Avenue NW
Guardian		
Walmart Pharmacy	+1 780-458-1629	700 St. Albert
Pharmasave	+1 780-705-6660	5244 199 Street NW Edmonton

Meadowlark Pharmacy		
Pharmasave		
Costco Pharmacy		
Costco Pharmacy		
Costco Pharmacy		
Costco Pharmacy		
Costco Pharmacy		
Safeway		
Pharmasave		4726 Gateway Boulevard NW
Medicine Shop Pharmacy		11407 40 Avenue NW
Shoppers Drug Mart		11962 104 ave
Parsons Drugs		625 Parsons Road SW
Whole Health Pharmacy Edmonton	+1 587-524-9928	13578 Fort Road NW
Save-on-Foods		
Shoppers Drug Mart		10255 101 Street North-west
Medicine Place	+1-825-401-3782	4229 118 Avenue NW
Family Practice Pharmacy		4245 118 Avenue NW
Burnewood Pharmacy		
Rexall		
IDA Pharmacy		
Beverly Prescription Centre	+1 780-761-4440; +1 780-761-4323	4516 118 Avenue NW
Family Clinic Pharmacy		7609 109 Street NW Edmonton
Shoppers Drug Mart		
Strathcona Healthcare		
Loblaw Pharmacy		4821 Calgary Trail NW
West Health Pharmacy		8107 99 Street NW
Pollo Clinical Pharmacy		6570 170 Avenue NW

IDA Pharmacy		
Medical Centre		11802 124 Street NW
Trinity Pharmacy		
Nicole's Pharmacy	+1-780-418-4777	2505 Tudor Glen Market

7 MEDICAL EMERGENCY PROCEDURES

- Any injury or illness: notify Safety Officer immediately
- Life-threatening emergency: call 911 and notify IC
- Dehydration/heat stress: remove from work area, transport to aid station
- Smoke inhalation: immediate medical assessment; evacuate to fresh air
- Burns: cool with water, cover with sterile dressing, transport to hospital

8 RESPONDER SAFETY NOTES

- Assign Medical Unit Leader before incident personnel exceed 25
- Pre-position ALS unit at ICP during active firefighting operations
- RPAS pilots: eye protection mandatory; rotor strike first aid kit required at LZ

9 OPERATIONAL MAP

Medical Support Map

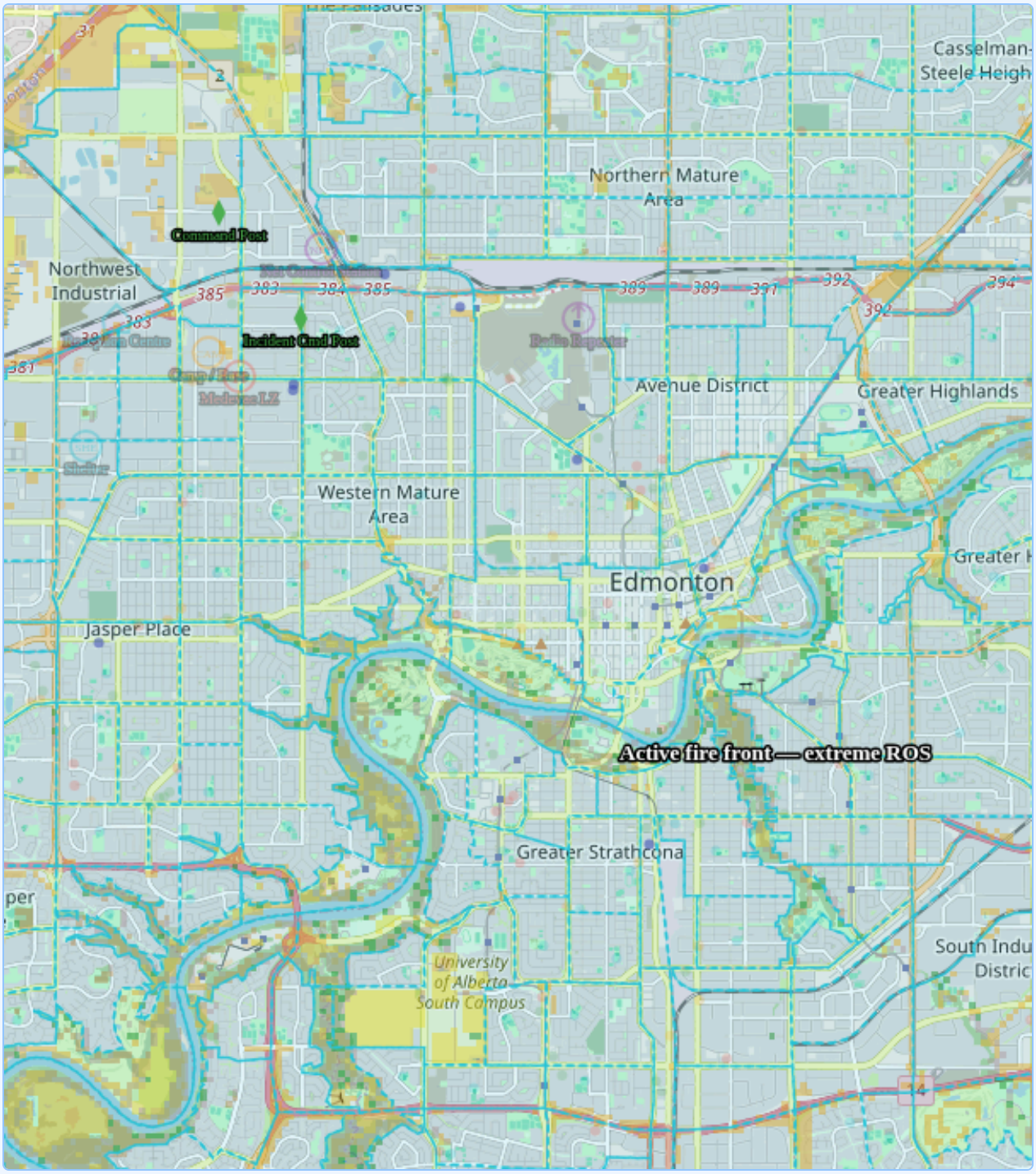

Evacuation Order (0–2 h) Evacuation Alert (2–6 h) Evacuation Watch (6–12 h) Fire Perimeter